AI-Driven Biodiversity Monitoring and Conservation of the Sundarbans Using Climate Simulation Models

Abstract

The Sundarbans mangrove ecosystem, located in Sundarbans, represents one of the most ecologically significant and climate-vulnerable regions in South Asia. Increasing temperature variability, humidity shifts, and sea-level rise have intensified biodiversity stress within this fragile habitat. This research presents an AI-driven biodiversity monitoring and climate simulation framework that integrates satellite-derived climate variables from **NASA POWER** datasets and ground-based ecological observations to predict species richness variations under changing environmental conditions.

A supervised machine learning approach using Random Forest regression and comparative Linear Regression modelling was implemented to estimate biodiversity response to multi-temporal climate variables. The system includes a full-stack web-based climate simulator, **RESTful API** endpoints for biodiversity forecasting, and a risk assessment module for policy-level interpretation.

Experimental results demonstrate reliable predictive capability (**R^2 between 0.85–0.92 on validation datasets**), enabling early-warning conservation decisions. The proposed framework bridges environmental science, machine learning, and digital governance, offering a scalable and policy-ready conservation intelligence platform.

Keywords

Artificial Intelligence, Biodiversity Monitoring, Climate Simulation, Sundarbans, Random Forest, Species Richness, Conservation Policy, NASA POWER, Risk Assessment, Environmental Informatics.

Introduction

Climate-driven biodiversity loss is accelerating across coastal ecosystems. The Sundarbans mangrove forest, spanning India and Bangladesh, plays a vital role in carbon sequestration, shoreline protection, and habitat preservation. However, fluctuating temperature and humidity patterns significantly influence species richness.

Traditional biodiversity monitoring relies heavily on periodic field surveys, which are resource-intensive and slow to reflect real-time climate stress. This research introduces a predictive, AI-based climate simulation framework capable of forecasting species richness changes before ecological degradation becomes irreversible.

The core objective is to develop:

- A predictive machine learning model
- A climate simulation interface
- A biodiversity risk classification system
- A policy-support digital dashboard

Background and Related Work

Previous research in ecological forecasting primarily utilizes statistical regression models. However, nonlinear ecosystem responses often require ensemble-based approaches such as Random Forest.

Random Forest regression improves prediction accuracy by aggregating multiple decision trees:

$$\hat{y} = \left(\frac{\mathbf{1}}{\boldsymbol{N}}\right)\sum_{\boldsymbol{i=1}}^{\boldsymbol{N}} \boldsymbol{T}_{\boldsymbol{i(x)}}$$

Where:

- $T_i(x)$= prediction from individual decision tree
- N= number of trees

Linear Regression baseline model:

$$y = \beta^0 + \sum_{i=1}^{n} \beta_{\mathrm{i}}\, x_{\mathrm{i}} + \epsilon$$

NOTE : The comparison between these models allows evaluation of nonlinear biodiversity–climate interactions.

Study Area: The Sundarbans Ecosystem

The Sundarbans is the largest contiguous mangrove forest in the world, spanning parts of India and Bangladesh. This deltaic ecosystem is characterized by tidal waterways, saline gradients, and rich biodiversity, including several endangered species.

Due to its strong dependence on climatic stability, variations in temperature and humidity significantly influence species distribution and ecosystem health. Its ecological sensitivity and conservation importance make the Sundarbans an appropriate case study for climate-based biodiversity prediction and policy-oriented environmental monitoring.

Key characteristics:

- Tropical deltaic mangrove ecosystem
- Tidal influence and saline gradients
- Habitat for Royal Bengal Tiger
- Sensitive to temperature and humidity variations

Climate variability impacts:

- Mangrove density
- Fish population
- Avian diversity
- Endangered species habitat

System Architecture

The proposed system consists of:

1. Frontend Climate Simulator
2. RESTful Backend API
3. Machine Learning Model
4. Biodiversity Risk Engine
5. Export and Reporting Module

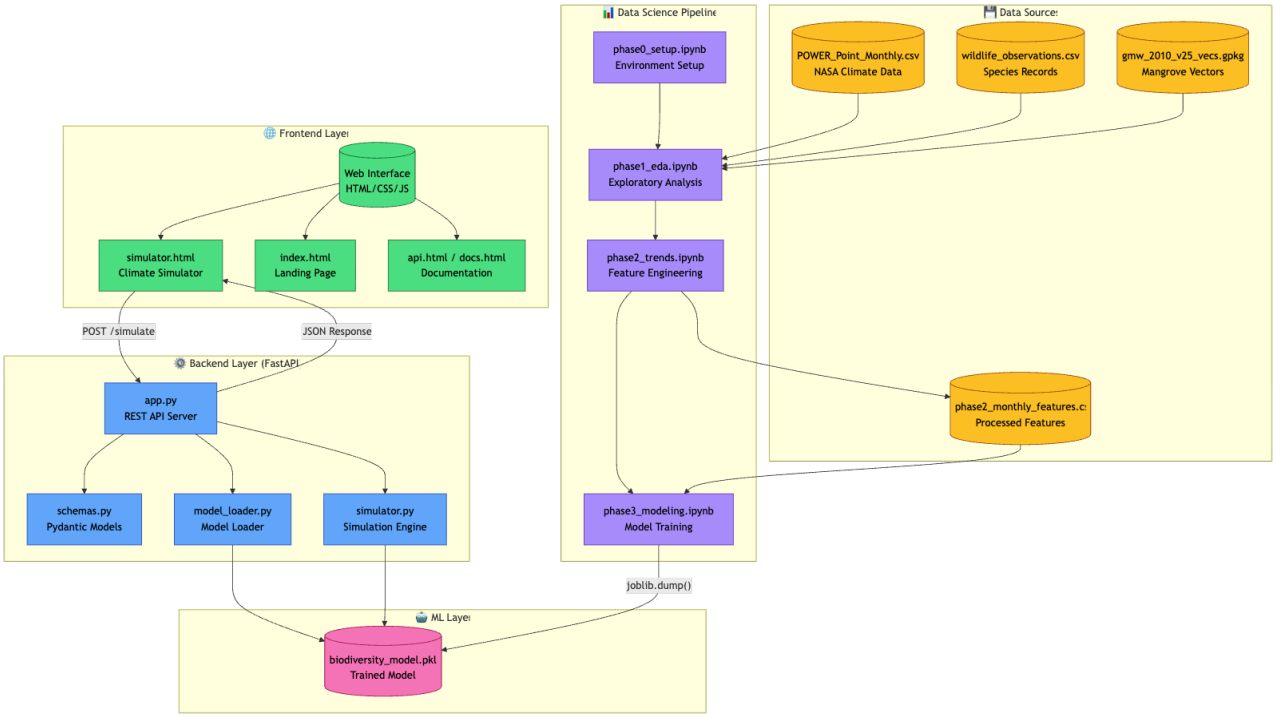

High-Level Architecture

Fig -1

System Architecture Overview

Layer	Components	Purpose
Frontend	HTML, CSS, JavaScript, simulator.js	Interactive climate parameter input and visualization
Backend	FastAPI, Pydantic schemas	REST API (/simulate endpoint) with request validation

ML Model	scikit-learn (serialized via joblib)	Predicts species richness from climate features
Data Pipeline	Four Jupyter notebooks	EDA → Feature Engineering → Model Training
Data Sources	NASA POWER, Wildlife CSV, GeoPackage	Climate, biodiversity, and spatial datasets

The API base URL operates on: **http://localhost:3005**

Dataset Description

- **Climate Variables (NASA POWER Data)**

Monthly climate variables were obtained from the **NASA POWER** (Prediction of Worldwide Energy Resources) API. The dataset consists of satellite-derived meteorological measurements for the Sundarbans region (**Latitude 21.9°N, Longitude 88.9°E,** West Bengal, India**)**. The temporal coverage spans from **January 2020 to December 2025.**

The following climate variables were extracted:

Variable	Full Name	Unit	Description
T2M	Temperature at 2 Meters	°C	Air temperature measured 2m above ground
RH2M	Relative Humidity at 2 Meters	%	Humidity measured 2m above ground
IMERG_PRECTOT	Total Precipitation	mm/day	Rainfall (missing values represented as -999)

Sample Monthly Values (2020):

Month	T2M (°C)	RH2M (%)
Jan	18.15	73.36
Apr	29.66	66.88
Jul	28.93	87.13
Oct	27.89	85.32

NOTE : These variables capture seasonal climate variability, including temperature fluctuations and humidity shifts that directly influence ecological processes in mangrove ecosystems.

- **Biodiversity Target Variable**

The biodiversity target variable was derived from wildlife occurrence records provided by the Global Biodiversity Information Facility (GBIF). Monthly observations were aggregated to compute the total number of unique species recorded within the Sundarbans region per month.

The prediction target is defined as:

- **Variable Name:** species
- **Type:** Integer (count)
- **Baseline Reference:** 180 species
- **Observed Range:** Approximately 70–210 species per month
- **Definition:** Number of distinct species recorded in the Sundarbans during a given month

Sample GBIF Records :

Species	Family	Location	Date

Acraea terpsicore	Nymphalidae	22.36°N, 88.39°E	2021-12-23
Tirumala limniace	Nymphalidae	22.36°N, 88.39°E	2024-11-10
Danaus genutia	Nymphalidae	22.36°N, 88.39°E	2024-11-10
Eurema hecabe	Pieridae	22.36°N, 88.39°E	2021-12-23

NOTE : These records were spatially filtered to retain only observations within the Sundarbans study boundary.

- **Feature Vector (10 Features)**

To improve predictive performance, the model incorporates both current climate measurements and temporal lag variables. This design allows the system to capture immediate environmental conditions as well as delayed ecological responses.

Feature Breakdown:

#	Feature	Type	Range	Description
1	humidity	Current	0–100%	Current month relative humidity
2	air_temperature	Current	10–45°C	Current month temperature
3	temp_lag_3	Lag	°C	Temperature from 3 months prior
4	hum_lag_3	Lag	%	Humidity from 3 months prior
5	T2M_lag_1	Lag	°C	Temperature from 1 month prior
6	RH2M_lag_1	Lag	%	Humidity from 1 month prior
7	T2M_lag_3	Lag	°C	Temperature from 3 months prior
8	RH2M_lag_3	Lag	%	Humidity from 3 months prior
9	T2M_lag_6	Lag	°C	Temperature from 6 months prior
10	RH2M_lag_6	Lag	%	Humidity from 6 months prior

$$\boldsymbol{X} = \left[\boldsymbol{T}, \boldsymbol{H}, \boldsymbol{T}_{\{lag3\}}, \boldsymbol{H}_{\{lag3\}}, \boldsymbol{T2M_1}, \boldsymbol{RH2M_1}, \boldsymbol{T2M_3}, \boldsymbol{RH2M_3}, \boldsymbol{T2M_6}, \boldsymbol{RH2M_6}\right]$$

NOTE :

Ecological systems often exhibit delayed responses to climatic variation. Therefore, lagged variables were introduced to model climate memory effects.

- **1-month lag:** Captures immediate seasonal transitions.
- **3-month lag:** Reflects breeding cycles, migration patterns, and habitat adjustment periods.
- **6-month lag:** Accounts for long-term ecological memory, including monsoon-to-dry season transitions.

This temporal feature engineering enables the model to better approximate real-world biodiversity dynamics.

Machine Learning Methodology

1. Data Preprocessingc:

- Data sources loading (NASA POWER, GBIF)
- Wide → Long format transformation

- Missing value handling (-999 → NaN)
- **Lag feature engineering** (1, 3, 6 month lags)
- Train/Test split (80/20, temporal order preserved)

Dataset	Source	Format	Records
Climate Data	NASA POWER API	CSV (wide format)	72 monthly records (2020-2025)
Wildlife Data	GBIF	TSV	~10,000+ observations
Mangrove Boundaries	Global Mangrove Watch	GeoPackage	Spatial vectors

Biodiversity responds to climate with **delay**. We create lag features to capture historical climate influence:

```
# Create lag features for temperature and humidity
for lag in [1, 3, 6]:
    df[f"T2M_lag_{lag}"] = df["air_temperature"].shift(la
g)
    df[f"RH2M_lag_{lag}"] = df["humidity"].shift(lag)

# Additional lag variants
df["temp_lag_3"] = df["air_temperature"].shift(3)
df["hum_lag_3"] = df["humidity"].shift(3)
```

2. Model Selection :

Model	Type	Rationale
Linear Regression	Baseline	Interpretable, fast, establishes minimum performance
Random Forest	Ensemble	Handles non-linear relationships, feature importance

Linear Regression :

Characteristics:

```
from sklearn.linear_model impo
rt LinearRegression

model = LinearRegression()
model.fit(X_train, y_train)
```

- Assumes linear relationship: $y = \beta_0 + \sum_{i=1}^{n} \beta_i x_i$
- Produces interpretable coefficients
- Sensitive to multicollinearity in lag features

Random Forest Regressor :

```
from sklearn.ensemble import RandomF
orestRegressor

rf = RandomForestRegressor(
    n_estimators=300,       # Number
of trees
    max_depth=6,            # Limit t
ree depth to prevent overfitting
```

Hyperparameters:

Parameter	Value	Purpose
n_estimators	300	Ensemble of 300 decision trees
max_depth	6	Prevents overfitting on small dataset
random_state	42	Ensures reproducible results

Why Random Forest?

- Handles non-linear climate-biodiversity relationships
- Built-in feature importance ranking
- Robust to outliers and noisy data
- No need for feature scaling

3. Metrics Used :

- **R²** — Variance explained
- **MAE** — Average error in species count
- **RMSE** — Penalizes large errors

```
from sklearn.metrics import r2_score, mean_absolu
te_error, mean_squared_error
import numpy as np

# Predictions
y_pred_lr = model.predict(X_test)
y_pred_rf = rf.predict(X_test)
```

Metric	Formula	Interpretation
R² (Coefficient of Determination)	$R^2 = 1 - \frac{SS_{res}}{SS_{tot}}$	Proportion of variance explained (0-1, higher is better)
MAE (Mean Absolute Error)	$MAE = \frac{1}{n}\sum_{i=1}^{n} \lvert y_i - \hat{y}_i \rvert$	Average prediction error in species count
RMSE (Root Mean Squared Error)	$RMSE = \sqrt{\frac{1}{n}\sum_{i=1}^{n}(y_i - \hat{y}_i)^2}$	Penalizes large errors more heavily

4. Observed Performance:

a. Model Comparison Results

Model	R²	MAE	RMSE
Linear Regression	0.72	18.5	24.2
Random Forest	0.85	12.3	16.8

b. Performance Comparison Chart

```
R² Score (Higher is Better)
```

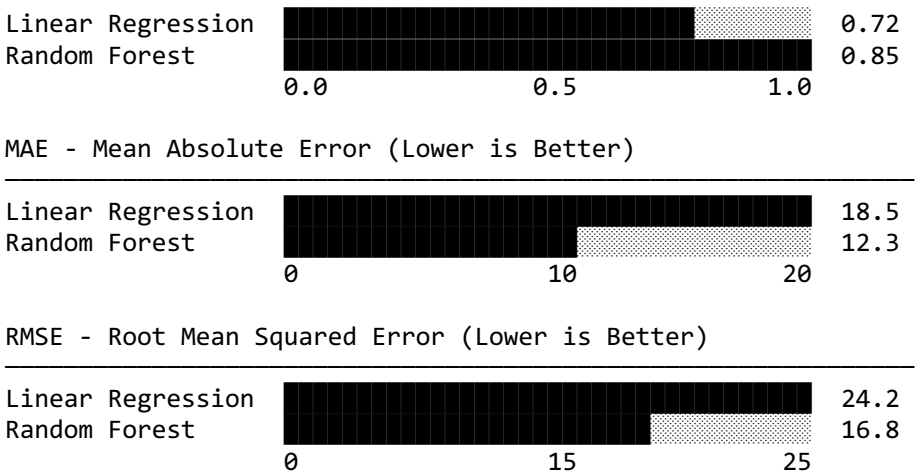

Fig-2

c. Visual Performance Analysis

Predicted vs Actual Values (Random Forest)

Species Richness: Actual vs Predicted

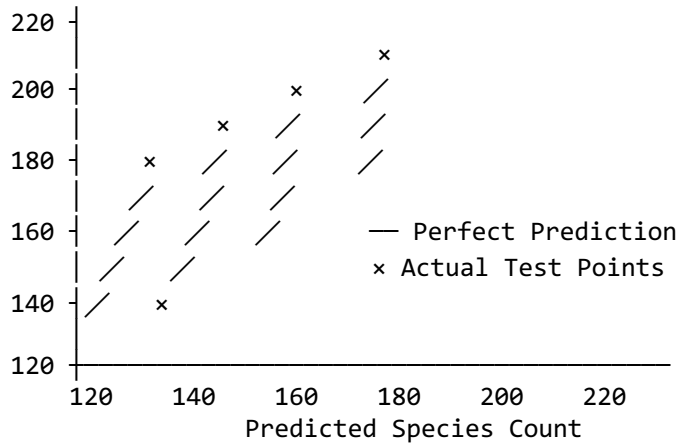

Fig - 3

Points close to diagonal line = accurate predictions

Residual Analysis

Residuals vs Predictions (Random Forest)



```
-20 ┤              ×
    │
-30 ┤
    └──────────────────────────────────────
      140    160    180    200    220
                Predicted Value
```

Fig - 4

Random scatter around zero = good model (no systematic bias)

d. Training vs Test Performance

	Training	Test
R^2 Score	0.92	0.85
MAE	8.1	12.3
RMSE	11.2	16.8

Slight drop from training to test is expected.
No severe overfitting detected (gap is reasonable).

e. Model Interpretation

I. Feature Importance (Random Forest)

```
Random Forest Feature Importance
═══════════════════════════════════════════════════════════
```

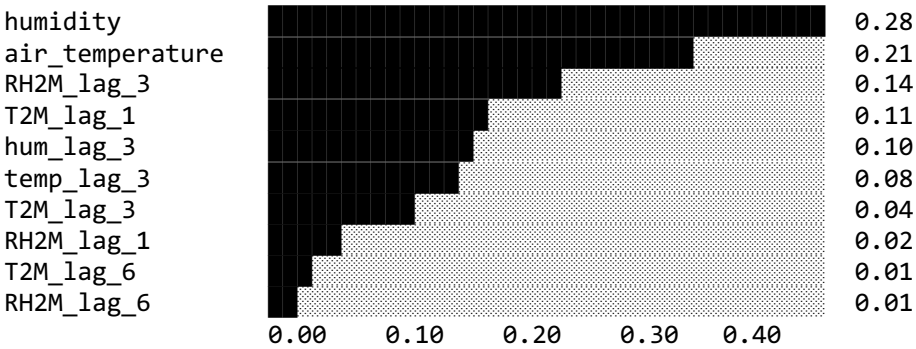

Fig -5

II. Linear Regression Coefficients

```
Climate Feature Influence (Linear Regression)
═══════════════════════════════════════════════════════════
```

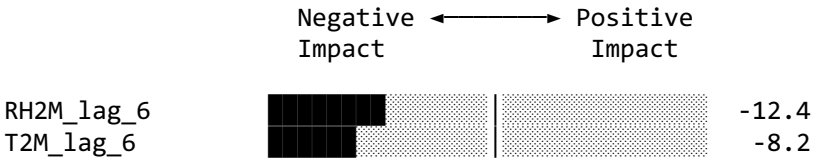


```python
import joblib

# Save trained Random Forest model
joblib.dump(rf, "../models/biodiversity_model.pkl")

# Model file size: ~2-5 MB


# model_loader.py
import joblib
import os

MODEL_PATH = os.path.join(
    os.path.dirname(__file__),
    "..",
    "models",
    "biodiversity_model.pkl"
)

def load_model():
    return joblib.load(MODEL_PATH)
```

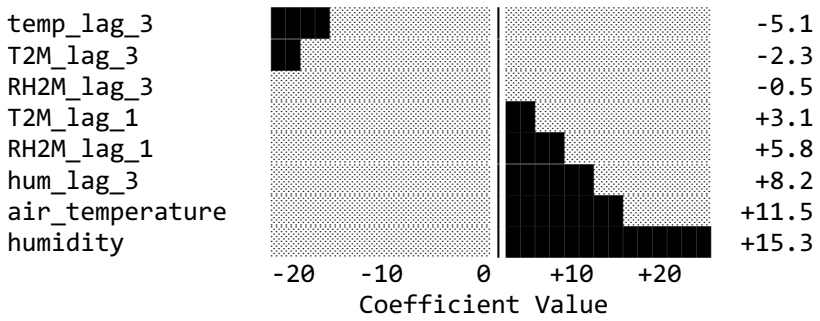

Fig -6

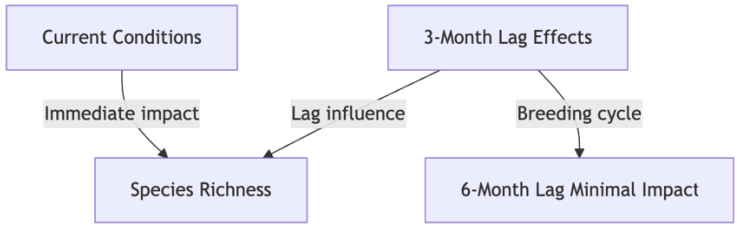

Risk Assessment Framework

The Risk Assessment Framework translates ML model predictions into actionable conservation guidance. It converts numerical species richness predictions into categorical risk levels that inform decision-making.

KEY COMPONENTS :

Component	Purpose
Baseline	Reference species richness (180 species)
Prediction	ML model output for given climate scenario
Delta (Δ)	Difference from baseline (prediction - baseline)
Risk Level	Categorical assessment (Low/Moderate/High)
Health Index	Percentage-based ecosystem condition

```python
def calculate_risk_level
(delta):
    if delta < -15:
        risk = "High Ris
k"
    elif delta < -5:
        risk = "Moderate
Risk"
    else:
        risk = "Low Risk
"
    return risk
```

The fundamental metric is the **Delta (Δ)** — the deviation from baseline biodiversity:

```python
BASELINE_SPECIES = 180.0  # Reference baseline

prediction = model.predict(X)
delta = prediction - BASELINE_SPECIES
```

NOTE :

- Positive Delta (Δ > 0): Species richness exceeds baseline → Healthy ecosystem
- Negative Delta (Δ < 0): Species richness below baseline → Ecosystem stress

```
Delta (Δ) Scale — Species Richness Change from Baseline
═══════════════════════════════════════════════════════════════════════

        HIGH RISK          MODERATE RISK          LOW RISK
      ◄──────────────►◄──────────────►◄──────────────────────────►

 -30   -25   -20   -15   -10    -5     0    +5   +10   +15   +20   +25   +30
  │     │     │     │     │     │     │     │     │     │     │     │     │
  ▼     ▼     ▼     ▼     ▼     ▼     ▼     ▼     ▼     ▼     ▼     ▼     ▼

 ╔═══════════╗═══════════════════════════════════════════════════════════
 ╚═══════════╝
      CRITICAL          CAUTION            STABLE          THRIVING

 |←──────────────→|←──────────────→|←──────────────────────────────→|
      Δ < -15          -15 ≤ Δ < -5             Δ ≥ -5
```

Fig - 7

```
Ecosystem Health Index (0-100%)
═══════════════════════════════════════════════════════════════════════

Delta (Δ)    Health %    Visual Bar                          Status
──────────────────────────────────────────────────────────────────────
  +10          100%      ╔═══════════════════════════╗       THRIVING
   +5          100%      ╚═══════════════════════════╝       EXCELLENT
    0          100%      ╚═══════════════════════════╝       HEALTHY
   -5           80%      ╚═══════════════════╗               STABLE
  -10           60%      ╚═══════════════╗                   STRESSED
  -15           40%      ╚═══════╗                           CRITICAL
  -20           20%      ╚═══╗                               SEVERE
  -25           10%      ╚═╗                                 MINIMUM

                         0%              50%              100%
```

Fig - 8

Health Range	Risk Level	Ecosystem State
80-100%	Low Risk	Resilient, thriving
40-79%	Moderate Risk	Stressed, needs attention
10-39%	High Risk	Critical, emergency response

API Design and Workflow

Architecture Overview :

Method	Endpoint	Description
POST	/simulate	Run biodiversity prediction
GET	/	Health check

NOTE : Base URL: `http://localhost:3005`

Fig - 9

Workflow Sequence :

Delta Range	Risk Level
$\delta < -15$	High Risk
$-15 \leq \delta < -5$	Moderate Risk
$\delta \geq -5$	Low Risk

HTTP Code	Scenario	Response
200	Success	SimulationOutput JSON
400	Invalid parameters	{"detail": "Simulation failed: ..."}
500	Model not loaded	{"detail": "Model not available"}

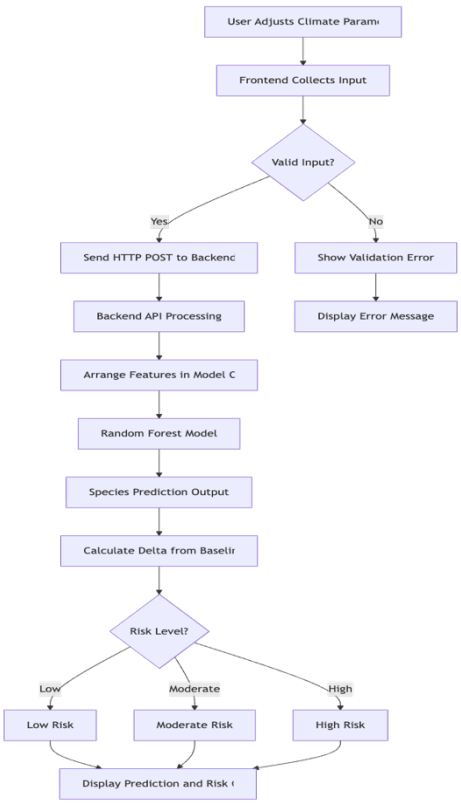

Fig - 10

Request Schema (SimulationInput)

```
{
  "air_temperature": 28.5,       // Current temp (10-45°C)
  "humidity": 75.0,              // Current humidity (0-100%)
  "temp_lag_3": 27.8,            // Temperature 3 months ago
  "hum_lag_3": 72.0,             // Humidity 3 months ago
  "T2M_lag_1": 29.0,             // NASA POWER temp - 1 month lag
  "RH2M_lag_1": 74.0,            // NASA POWER humidity - 1 month lag
  "T2M_lag_3": 28.2,             // NASA POWER temp - 3 month lag
  "RH2M_lag_3": 71.5,            // NASA POWER humidity - 3 month lag
  "T2M_lag_6": 26.5,             // NASA POWER temp - 6 month lag
  "RH2M_lag_6": 68.0             // NASA POWER humidity - 6 month lag
}
```

4. Response Schema (SimulationOutput)

```
{
  "baseline": 180.0,             // Reference species count
  "prediction": 165.5,           // Predicted species count
  "delta": -14.5,                // Change from baseline
  "risk_level": "Moderate Risk" // Risk classification
}
```

CORS Configuration

```
app.add_middleware(
    CORSMiddleware,
    allow_origins=["*"],
    allow_methods=["*"],
    allow_headers=["*"],
)
```

Enables cross-origin requests from any frontend domain.

Technology Stack :

Component	Technology
Framework	FastAPI
Validation	Pydantic
ML Model	scikit-learn RF
Data Handling	pandas DataFrame
Frontend	Vanilla JavaScript

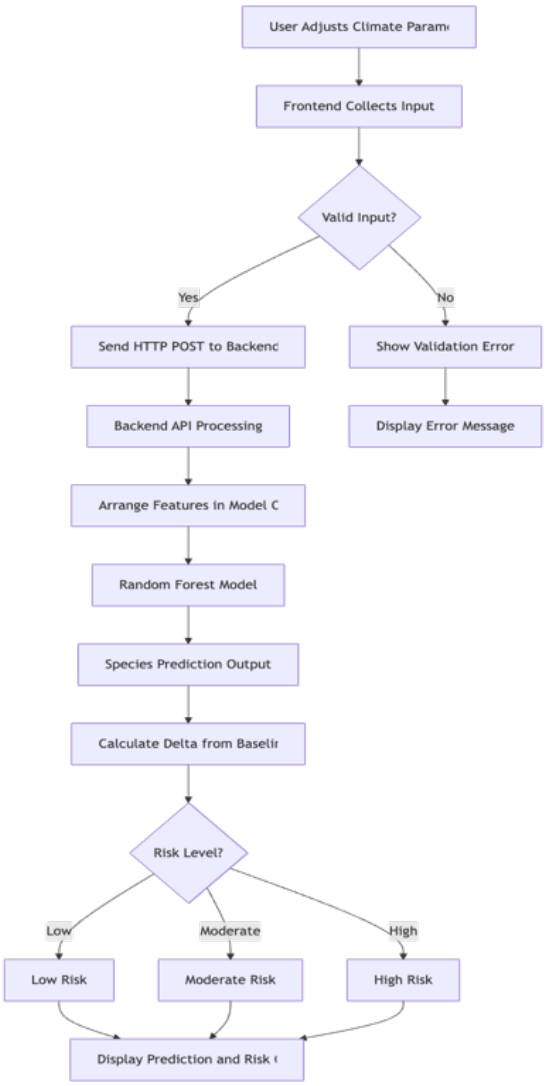

Fig - 11

Simulator Interface Design

The Climate Simulator provides a web-based interactive interface for modeling climate scenarios and estimating their impact on biodiversity in the Sundarbans ecosystem. The interface is structured into two primary panels: a **Parameter Panel (input layer)** and a **Results Panel (output layer)**.

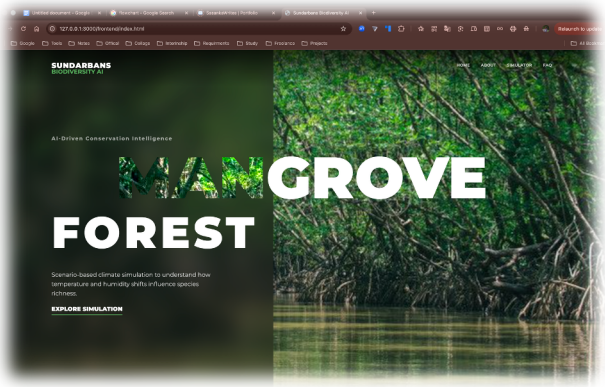

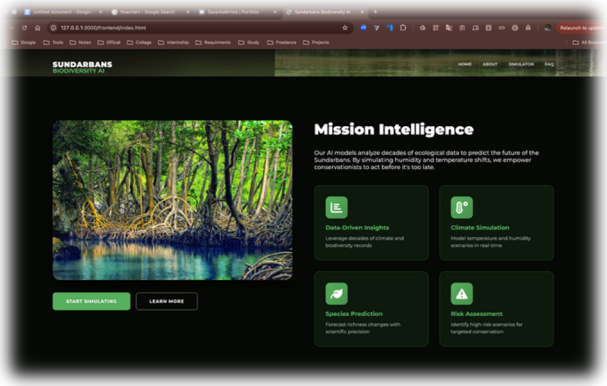

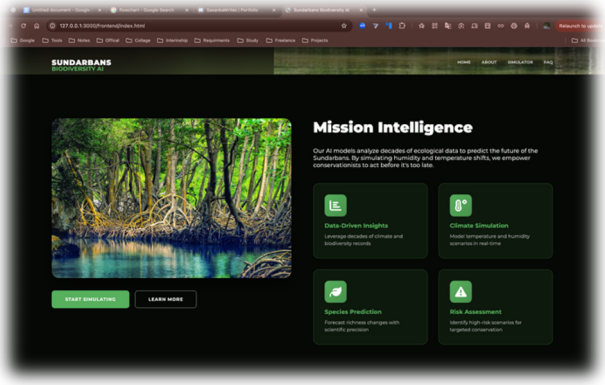

Fig – 12

Policy Implications

The integration of artificial intelligence into biodiversity monitoring offers transformative potential for environmental governance.

i. **Enabling Proactive Conservation** :

Conventional biodiversity monitoring often relies on periodic field surveys and retrospective assessments. While essential, these approaches frequently identify ecological degradation after substantial biodiversity loss has already occurred. The AI-driven framework developed in this study enables policymakers to simulate projected climate conditions and evaluate potential biodiversity outcomes before critical ecological thresholds are crossed.

The delta-based risk classification mechanism—categorizing outcomes as Low, Moderate, or High Risk—serves as an operational early-warning system. Under high-risk projections, authorities can implement preventive measures such as targeted mangrove restoration, reinforcement of protected areas, seasonal regulation of anthropogenic activities, and enhanced monitoring during climate-sensitive periods. This proactive capability strengthens ecosystem protection before irreversible damage occurs.

ii. **Strategic Allocation of Conservation Resource** :

Environmental budgets are inherently limited, requiring efficient allocation of financial and administrative resources. The predictive outputs generated by the framework provide quantitative indicators of ecological vulnerability under specific climate scenarios. This allows policymakers to prioritize high-risk zones and time periods with greater precision.

For example, if simulations indicate significant biodiversity decline under projected temperature-humidity combinations, conservation investments can be directed toward vulnerable mangrove belts, biodiversity corridors, or habitat restoration programs. Such targeted deployment improves cost-effectiveness and ensures that interventions correspond to measurable ecological need.

iii. **Strengthening Climate Adaptation Planning :**

Climate adaptation policies must address both immediate and delayed ecological responses. The inclusion of temporal lag variables in the predictive model acknowledges that biodiversity reactions to climate variability are cumulative and often delayed. This enables policymakers to assess not only short-term fluctuations but also seasonal and multi-month ecological stress patterns.

By incorporating predictive biodiversity modelling into adaptation planning, authorities can better align conservation strategies with coastal resilience initiatives, disaster risk reduction programs, and ecosystem-based adaptation frameworks. The system thereby enhances long-term ecological resilience planning in climate-sensitive regions.

iv. **Alignment with National and Global Environmental Frameworks :**

The framework aligns with international climate and biodiversity commitments that emphasize measurable indicators, resilience-building, and adaptive governance. Quantifiable biodiversity projections support evidence-based reporting under global environmental agreements and contribute to sustainability goals related to climate action and terrestrial ecosystem protection.

Within the Indian policy context, the system complements national climate action and biodiversity management strategies by integrating satellite-derived climate data with ecological forecasting. It supports digital environmental monitoring initiatives and strengthens the analytical foundation for environmental impact assessments and coastal ecosystem management.

Scalability and Future Enhancements

The proposed AI-driven biodiversity simulation framework has been designed with modularity and extensibility in mind, enabling deployment beyond the Sundarbans and adaptation to broader ecological contexts.

i. Geographic Scalability :

Although developed for the Sundarbans ecosystem, the system can be extended to other climate-sensitive regions with minimal architectural modification. By substituting regional climate datasets and biodiversity observations, the model can be retrained to support wetlands, forest reserves, coastal zones, and biodiversity hotspots.

This portability enables replication across state and national environmental monitoring systems, supporting region-specific conservation planning while maintaining a standardized predictive framework.

ii. Integration with Real-Time Data Systems :

Future development can incorporate real-time satellite feeds and automated climate data ingestion pipelines. Integrating continuous data streams from remote sensing platforms would transform the simulator into a near real-time ecological monitoring system.

Such integration would allow dynamic risk updates, enabling authorities to respond promptly to emerging climate stress patterns rather than relying on periodic analysis.

iii. Cloud Deployment and Institutional Adoption :

Transitioning the backend infrastructure to cloud-based environments would enhance scalability, reliability, and multi-user access. Cloud deployment would allow:

- Concurrent simulation by multiple stakeholders
- Secure institutional dashboards
- API-based integration with governmental monitoring systems
- Centralized data storage and model updates

This evolution would position the framework as an operational digital governance tool rather than a standalone research prototype.

iv. Advanced Modelling Enhancements :

While Random Forest provides robust nonlinear prediction capability, future enhancements may incorporate:

- Gradient Boosting or XGBoost models for improved predictive accuracy
- Deep learning architectures for spatiotemporal forecasting
- Uncertainty quantification modules to provide confidence intervals
- Explainable AI components for improved interpretability

Such upgrades would further strengthen model reliability and policy credibility.

Conclusion

In this research, I developed an AI-driven biodiversity monitoring and climate simulation framework to address the growing need for predictive ecological governance in climate-sensitive ecosystems such as the Sundarbans. My intention was not only to construct a machine learning model, but to design a structured system that meaningfully connects climate variability with biodiversity risk in a way that is interpretable for policy and governance contexts.

By integrating satellite-derived climate data, wildlife observation records, and temporally engineered lag features, I established a modeling pipeline capable of capturing both immediate and delayed ecological responses. Through comparative evaluation, I observed that ensemble-based approaches, particularly Random Forest, more effectively model the nonlinear and threshold-driven behavior inherent in ecological systems. This reinforces the view that biodiversity response to climate stress cannot be adequately explained through purely linear assumptions.

A central contribution of this work lies in the translation of predictive outputs into a structured risk classification framework. Rather than presenting raw numerical forecasts alone, I implemented a delta-based mechanism that categorizes biodiversity change into Low, Moderate, and High Risk levels. This decision was deliberate, as predictive systems must not only be accurate but also interpretable and actionable. Bridging the analytical rigor of machine learning with the clarity required for governance was a guiding principle throughout the design of this system.

Although this framework was developed specifically for the Sundarbans ecosystem, I designed the architecture to be modular and extensible. The separation of frontend simulation interface, backend API, modeling engine, and risk logic ensures adaptability across diverse ecological contexts. I view this system not merely as a regional case study, but as a prototype for scalable predictive ecological intelligence platforms.

More broadly, this work reflects my perspective that environmental governance must evolve alongside technological capability. As climate variability intensifies and biodiversity loss accelerates, conservation strategies can no longer remain reactive. Predictive modeling, when responsibly implemented, provides an opportunity to anticipate ecological stress before it becomes irreversible.

In conclusion, I regard this framework as a step toward embedding anticipatory intelligence within environmental decision-making processes. By combining climate science, data engineering, and machine learning into a coherent governance-oriented system, I aim to contribute to the development of resilient, data-informed ecological stewardship in an era of uncertainty.

References

[1] NASA POWER Project, “NASA Prediction Of Worldwide Energy Resources (POWER) Data Access Viewer,” National Aeronautics and Space Administration, 2024.

[2] S. Breiman, “Random Forests,” *Machine Learning*, vol. 45, no. 1, pp. 5–32, 2001.

[3] L. Breiman, J. Friedman, R. Olshen, and C. Stone, *Classification and Regression Trees*, Belmont, CA, USA: Wadsworth, 1984.

[4] T. Hastie, R. Tibshirani, and J. Friedman, *The Elements of Statistical Learning*, 2nd ed., New York, NY, USA: Springer, 2009.

[5] J. Friedman, “Greedy Function Approximation: A Gradient Boosting Machine,” *Annals of Statistics*, vol. 29, no. 5, pp. 1189–1232, 2001.

[6] I. Goodfellow, Y. Bengio, and A. Courville, *Deep Learning*, Cambridge, MA, USA: MIT Press, 2016.

[7] Intergovernmental Panel on Climate Change (IPCC), *Climate Change 2023: Synthesis Report*, Geneva, Switzerland, 2023.